Name: Lydon Dalais
Student Number: DLSLYD001
Course: SEA4001W
Date: 11th March 2026
Assignment: P2 Plotting oceanographic data and time series

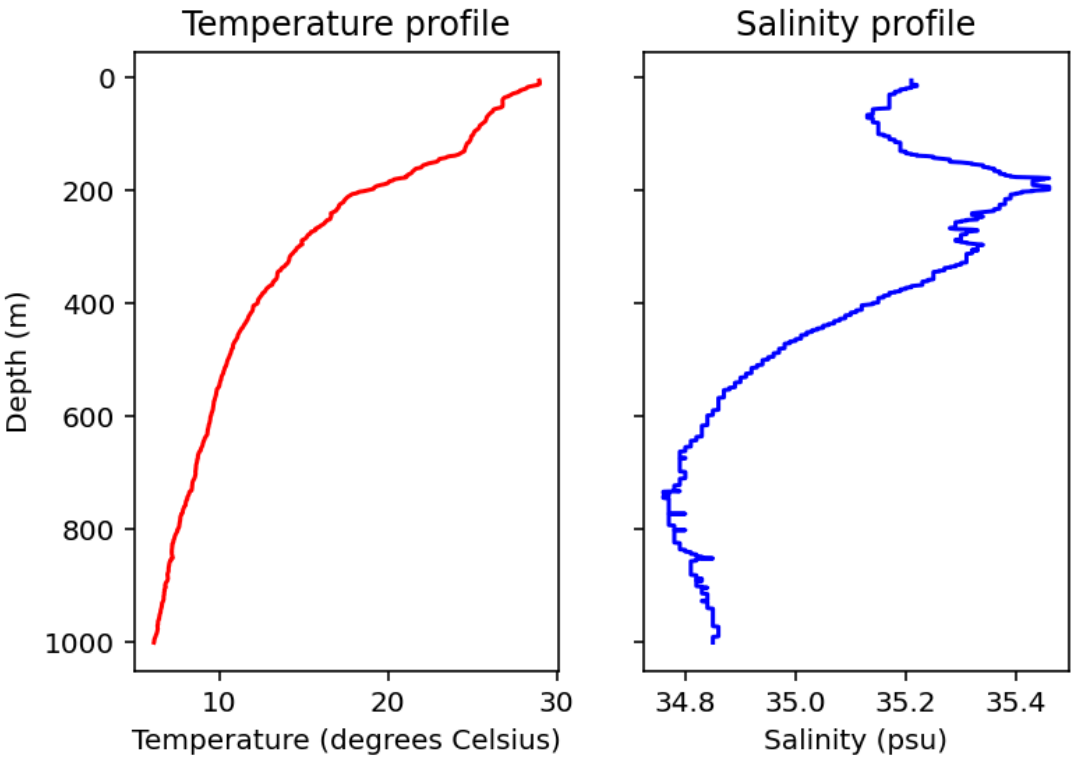

Figure 1: Profiles of temperature (on the left) and salinity (on the right).

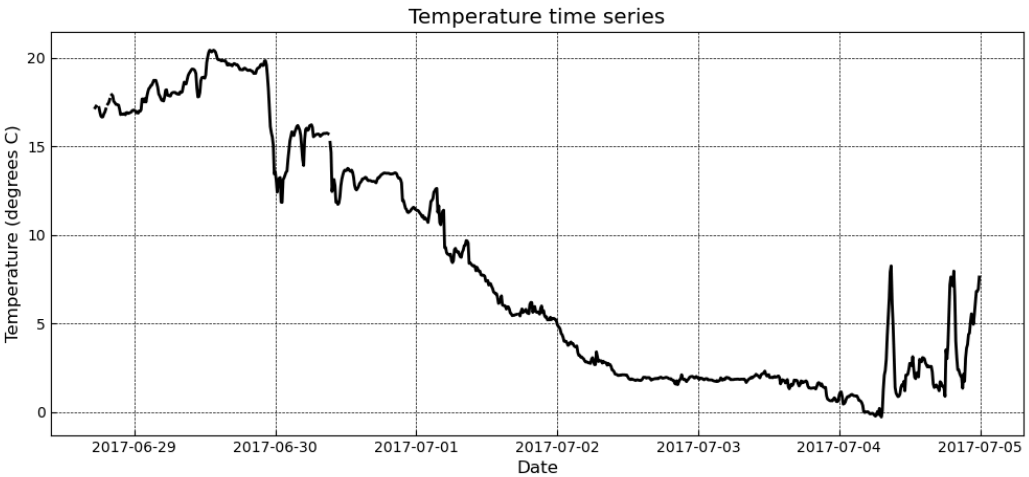

Figure 2: Time series of ocean temperature across the Southern Ocean between the end of June and beginning of July.

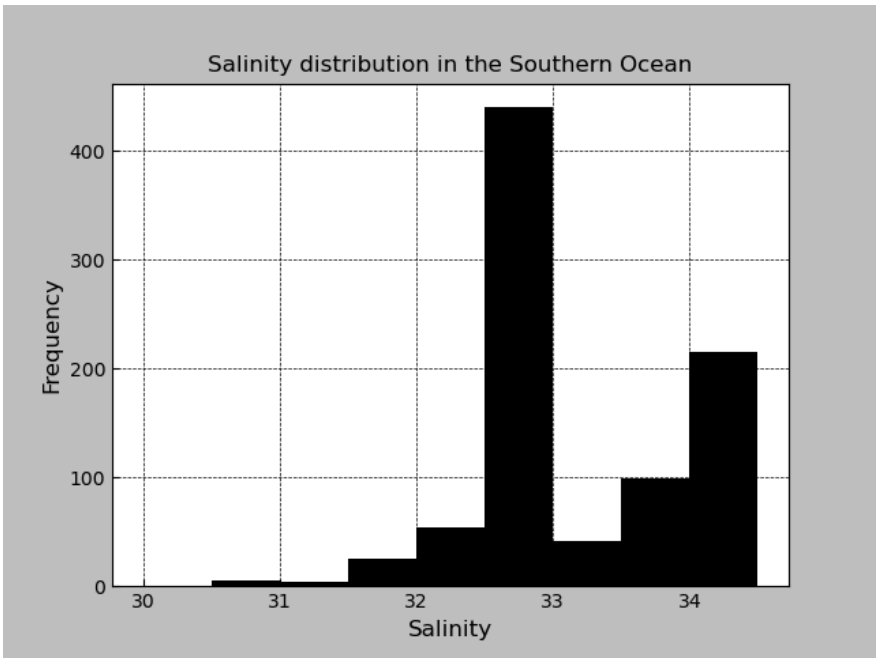

Figure 3: Histogram of the distribution of salinity in the Southern Ocean.

Variables	Mean	Standard deviation	IQR
TSG_TEMP (Degrees C)	8.146541	6.747988	11.76885
TSG_SALINITY (psu)	33.110553	1.14015	1.272575

Figure 4: Table (created using google sheets) of the mean, standard deviation and interquartile range (IQR) of ocean temperature and salinity in the Southern Ocean.

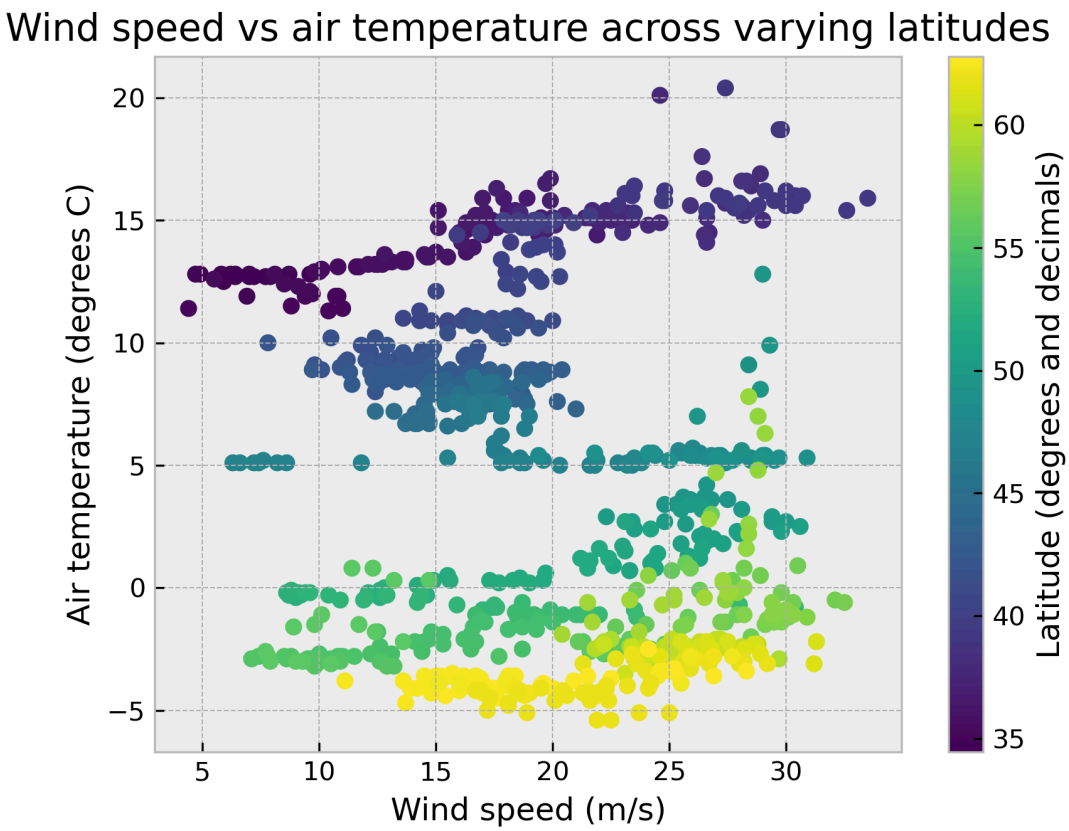

Figure 5: Scatter plot of wind speed against air temperature across various latitudes in the Southern Ocean, the latitudes are represented through different colours.